Bengaluru Traffic Analytics

Avg Congestion	Avg Speed	Avg Traffic Volume	Avg Travel Time
80.82	39.45	29.24K	29.24K

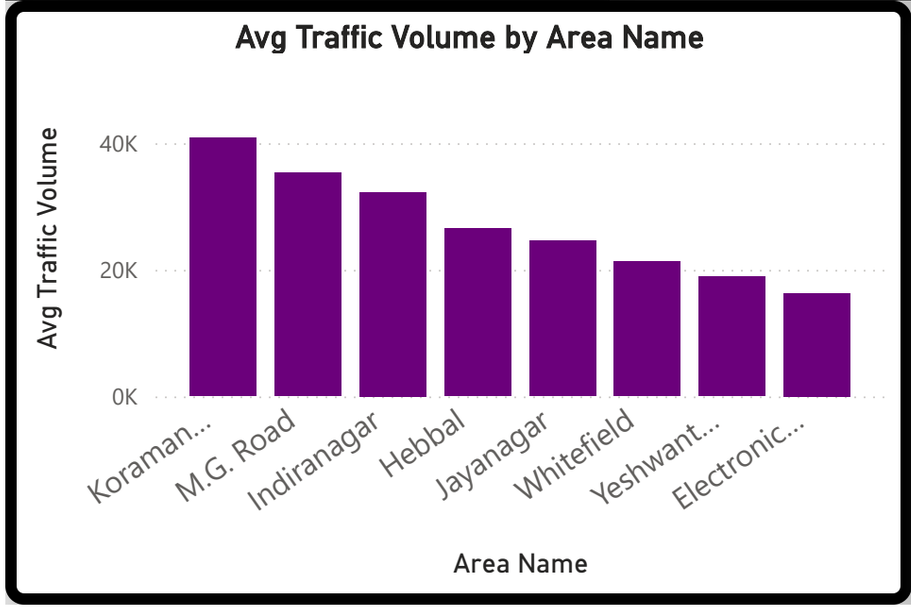

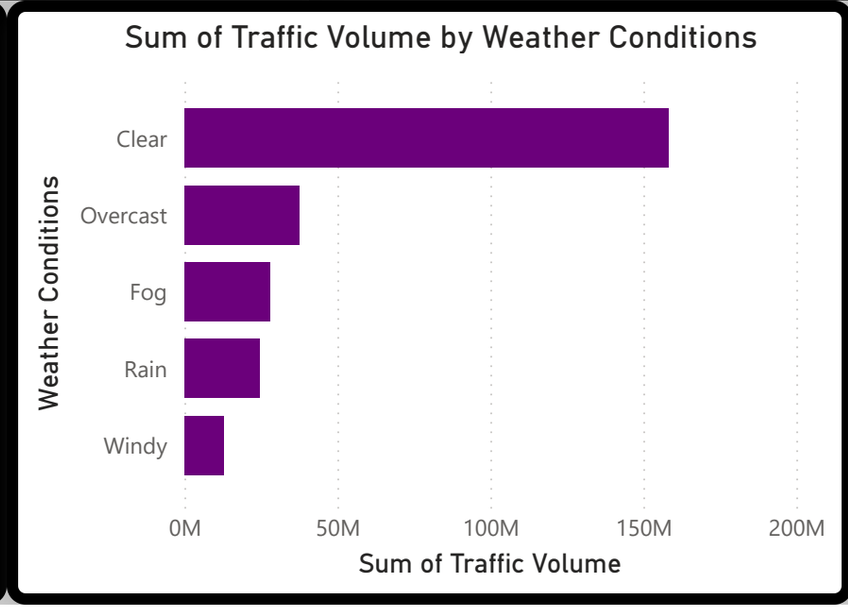

Area Name

- [ ] Electronic City
- [ ] Hebbal
- [ ] Indiranagar
- [ ] Jayanagar
- [ ] Koramangala
- [ ] M.G. Road
- [ ] Whitefield
- [ ] Yeshwanthpur

Road and Area Performance Analysis

Avg Congestion

80.82

Avg Traffic Volume

29.24K

Avg Travel Time

29.24K

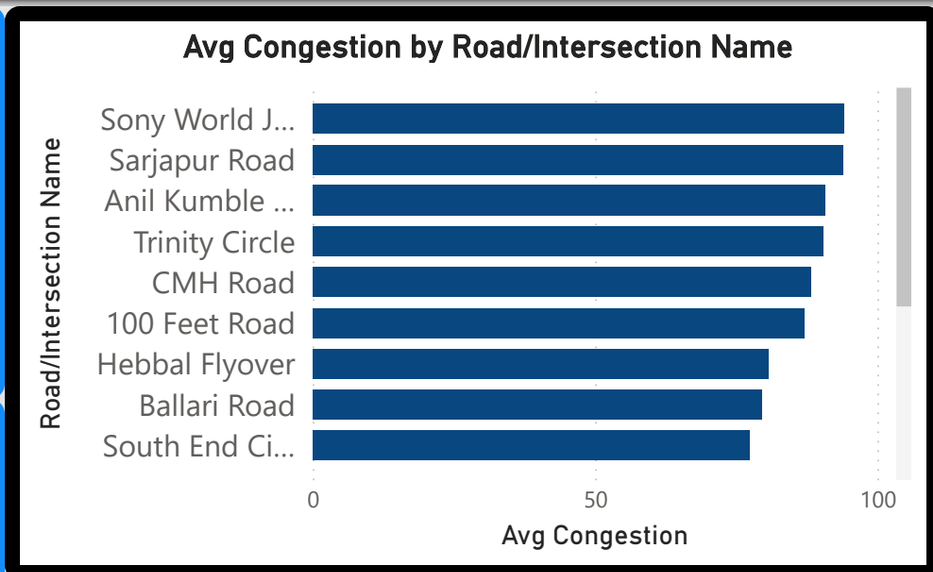

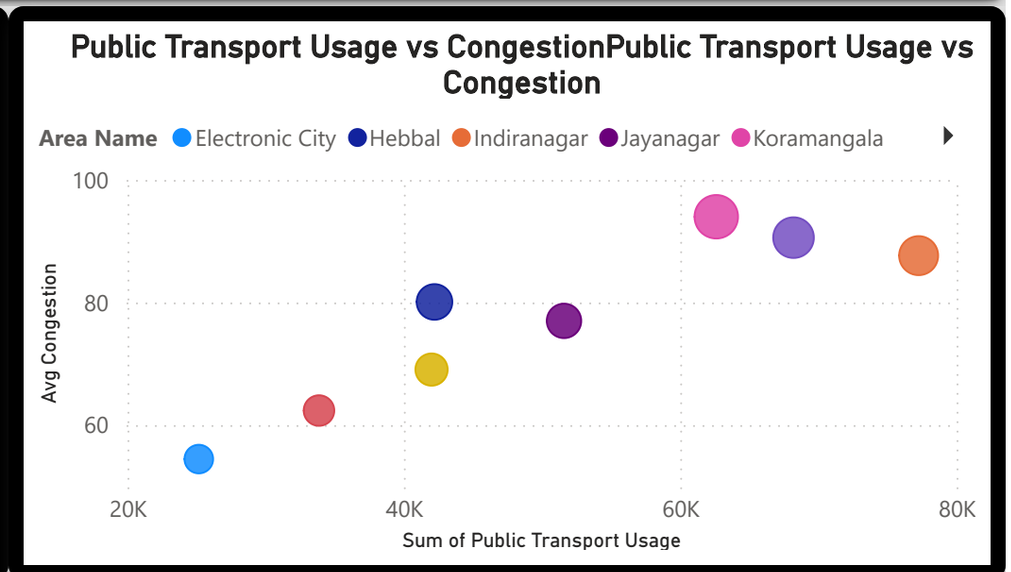

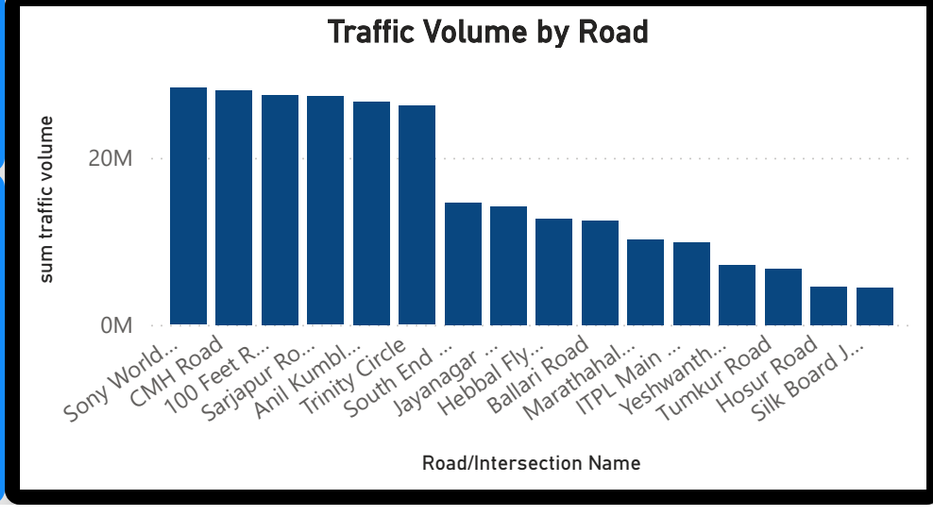

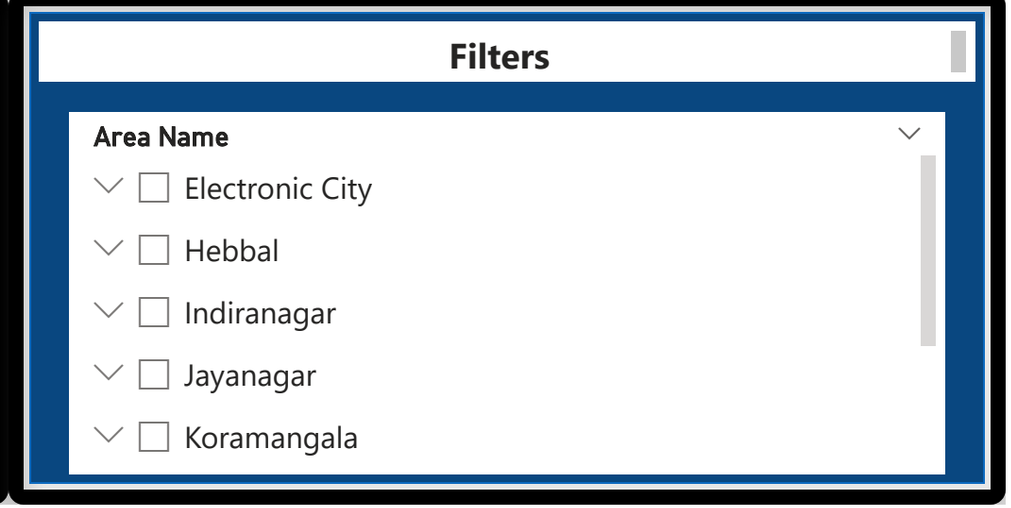

Bengaluru Traffic Trends and Impact Analysis

Monthly Traffic Volume Trend Over Time

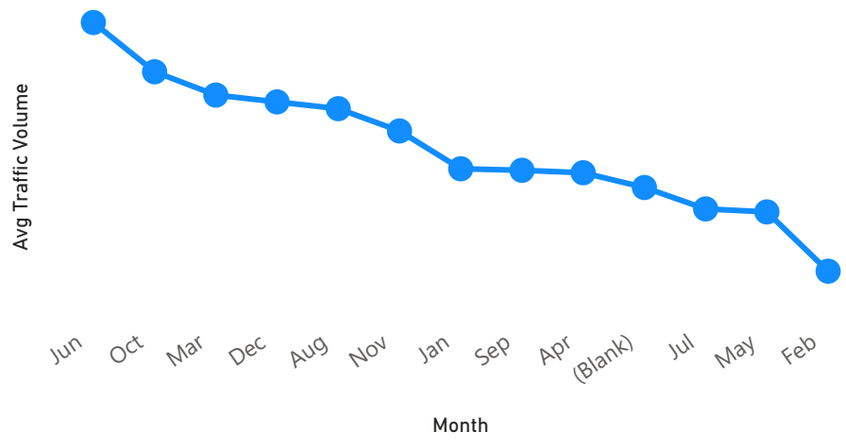

Traffic Volume Share by Signal Status

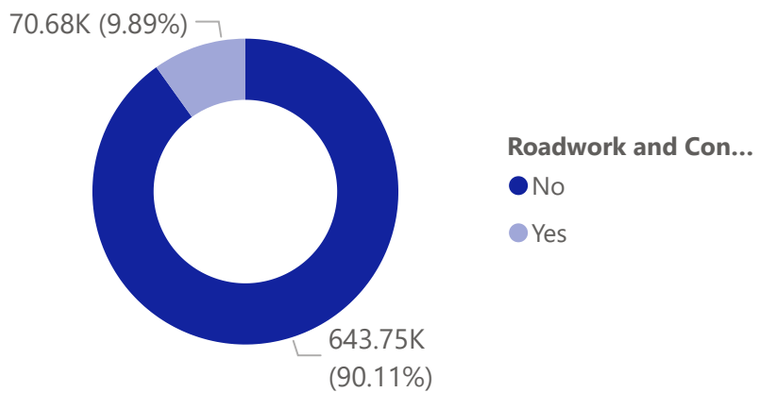

Area Name		2022	Total
Koramangala	40,473.23	41,406.01	**40,832.25**
M.G. Road	35,034.30	35,731.43	**35,300.43**
Indiranagar	32,121.89	32,544.09	**32,284.39**
Hebbal	26,579.24	26,456.81	**26,533.23**
Jayanagar	24,937.12	24,067.62	**24,601.33**
Whitefield	21,154.90	21,518.80	**21,295.13**
Yeshwanthpur	18,712.75	19,284.27	**18,931.55**
Electronic City	16,083.13	16,775.80	**16,346.64**
Total	**29,099.43**	**29,455.98**	**29,236.05**

Traffic congestion by Parking Usage

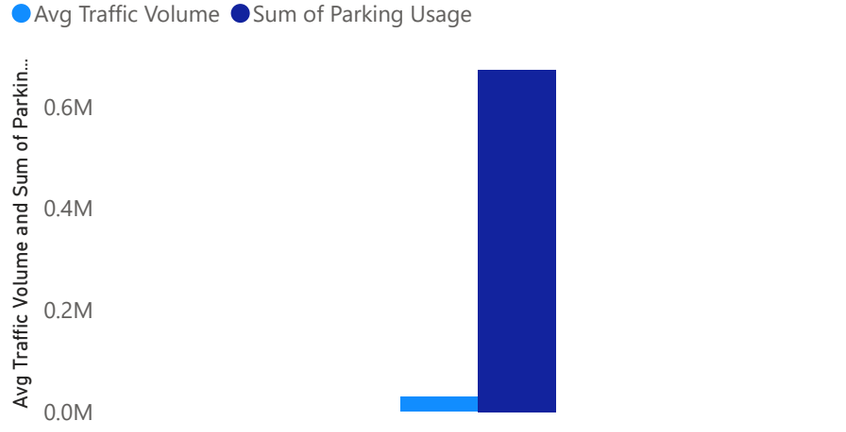

Impact of Road Construction on Congestion

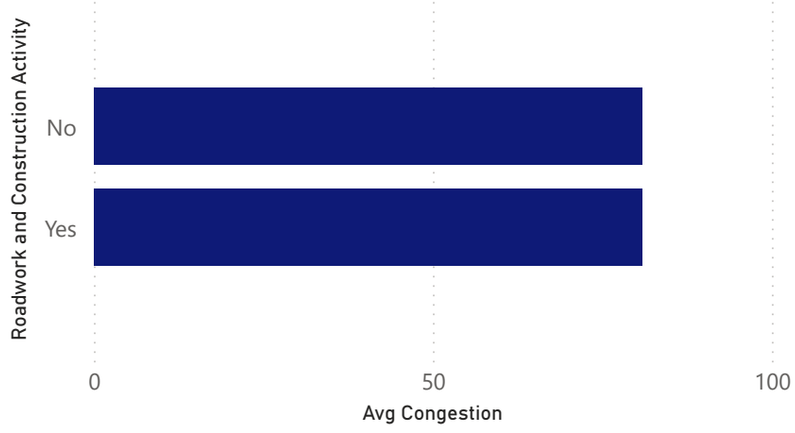

Area Name

- [ ] Electronic City
- [ ] Hebbal
- [ ] Indiranagar
- [ ] Jayanagar
- [ ] Koramangala
- [ ] M.G. Road
- [ ] Whitefield
- [ ] Yeshwanthpur